A
MAJOR PROJECT REPORT
(SYNOPSIS)
ON

"REAL-TIME EMERGENCY RESPONSE AND GEOFENCING SYSTEM"

This Project Report is submitted to
Rajiv Gandhi Proudyogiki Vishwavidyalaya
in the partial fulfillment for the award of the degree of

Bachelor of Technology
VIII SEM
(Computer Science & Engg.)

Submitted By:

Anshul Singh (0228CS221036)

Under the guidance of:

Prof. Nitin Shukla
Head of Department
Computer Science
SHRI RAM GROUP OF INSTITUTIONS (SRGI)

SHRI RAM GROUP OF INSTITUTIONS (SRGI), JABALPUR
2026

SHRI RAM GROUP OF INSTITUTIONS (SRGI), JABALPUR

Approved by AICTE New Delhi & Govt. of M.P.
(Affiliated to R.G.P.V. - University of Technology of Madhya Pradesh)

CERTIFICATE

This is to certify that,

Anshul Singh (Enroll No.:0228CS221036)

Student of 8th Semester, Computer Science & Engineering, **SHRI RAM GROUP OF INSTITUTIONS (SRGI)**, Jabalpur have submitted their major project synopsis entitled "**REAL-TIME EMERGENCY RESPONSE AND GEOFENCING SYSTEM**" for the completion of 8th semester examination under the requirement for the degree of Bachelor of Technology as per **R.G.P.V., Bhopal (M.P.).**

This is an original work of the student and is based on their own innovative idea. We, hereby certify this project to be an authentic work by these young minds.

Prof. Nitin Shukla
Head- Computer Science Dept.
S.R.G.I.

SHRI RAM GROUP OF INSTITUTIONS (SRGI), JABALPUR

Approved by AICTE New Delhi & Govt. of M.P.
(Affiliated to R.G.P.V.- University of Technology of Madhya Pradesh)

CERTIFICATE OF APPROVAL

The foregoing major project title ***"REAL-TIME EMERGENCY RESPONSE AND GEOFENCING SYSTEM"*** is hereby approved as a creditable study of an engineering subject carried out and presented in a manner satisfactory to warrant its acceptance as a prerequisite to the degree for which it has been submitted. It is understood that by this approval the undersigned do not necessarily endorse or approve any statement made, opinion expressed or conclusion drawn therein, but approve the project only for the purpose for which it has been submitted.

(Internal Examiner) **(External Examiner)**

DECLARATION

Here we declare that the project entitled which is being submitted in partial fulfillment of the requirement for the award of the degree of Bachelor of Technology in Computer Science "***RAJIV GANDHI PROUDYOGIKI VISHWAVIDYALAYA, BHOPAL [M.P]***" is the authentic record of my own work done under the guidance of **Prof. Nitin Shukla**[HOD - Computer Science Dept].

The Matter reported in this project has not been submitted earlier for the award of degree.

PLACE: JABALPUR NAME (ROLL NO.):ANSHUL SINGH(0228CS221036)

DATE:

SHRI RAM GROUP OF INSTITUTIONS (SRGI), JABALPUR

Approved by AICTE New Delhi & Govt. of M.P.
(Affiliated to R.G.P.V. - University of Technology of Madhya Pradesh)

FORWARD

I hereby forward project title ***"PROJECT NAME"*** *which is being submitted by*
Anshul Singh (Enroll No.:0228CS221036)

I**n** partial fulfillment of the requirement for the award of Degree of Bachelor of Technology in Computer Science "***Rajiv Gandhi Proudyogiki Vishwavidyalaya Bhopal [M.P]"***

PLACE: **JABALPUR**
DATE:

Prof. Nitin Shukla

HOD
Computer Science & Engg. Department
SHRI RAM GROUP OF INSTITUTIONS
(SRGI) JABALPUR [M.P]

ACKNOWLEDGEMENTS

I would like to extend my gratitude to all those who gave us the possibility to complete this project. I would like to thank the Department of computer science of SHRI RAM GROUP OF INSTITUTIONS (SRGI) for giving me permission to commence this project in first instance, to do the necessary research and to use departmental accessories.

I deeply indebted to our supervisor Prof. Nitin Shukla [HOD -Computer Science Dept] whose help, simulating suggestions and encouragement helped me throughout the duration of completing this project.

I am deeply grateful to our honorable head of the department Prof. Nitin Shukla for his simulating support. We have further more to thank the Faculty of our college who helped me in providing the necessary data.

My colleagues in the department also supported me in my project. I want to thank them for all their help, support, interest and valuable hints.

PLACE: **JABALPUR** **STUDENT NAME:ANSHUL SINGH**
DATE:

INDEX

Chapter 1	**INTRODUCTION**	**1**
	1.1 Introduction	1
	1.2 Problem Statement	1
	1.3 Project Objectives & Goals	1-2
	1.4 Scope and Limitations	2
	1.5 Report Outline	2-3
Chapter 2	**LITERATURE SURVEY**	**4**
	2.1 Survey and Analysis of Existing Solutions	4
	2.2 Identification of Research Gap	4-5
Chapter 3	**REQUIREMENT ANALYSIS AND SPECIFICATION**	**6**
	3.1 Functional Requirements	6
	3.2 Non-Functional Requirements	6-7
	3.3 Software and Hardware Requirements	7-8
Chapter 4	**SYSTEM DESIGN AND ARCHITECTURE**	**9**
	4.1 System Architecture Diagram	9
	4.2 Database Design (Entity-Relationship Diagram, Schema)	10-11
	4.3 Model Design (Flowcharts, Pseudocode)	11-14
	4.4 DFD Diagrams	14-16
	4.5 Use Case Diagrams	16-17
Chapter 5	**IMPLEMENTATION, TESTING, AND MAINTENANCE**	**18**
	5.1 Introduction to Languages, IDE's	18
	5.2 Tools and Technologies used for Implementation	18-19
	5.3 Coding standards of Language used Project Scheduling using various tools such as PERT, GANTT charts, Open PROJ etc.	19-21
	5.4 Testing Techniques and Test Plans	21-22
Chapter 6	**EXPECTED RESULTS AND DISCUSSION**	**23**
	6.1 Expected Results and Discussion	23-24
	6.2 Expected Performance Results	25
Chapter 7	**CONCLUSION**	**26**
	7.1 Conclusion	26
	REFERNECES	**27**
APPENDICES	Appendix A: Source Code (GitHub Repository Link and Snapshot)	28-29
	Appendix B: Comprehensive Project Timeline (Gantt Chart)	29
	Appendix C: Team Member Contributions	29
	Appendix D: Dataset Details and Sources	30
	Appendix E: Relevant Published Papers	30-31

CHAPTER 1
INTRODUCTION

1.1 INTRODUCTION

The Sentinel v18 project is a cutting-edge real-time emergency monitoring system designed specifically for the Jabalpur sector. In modern urban environments, the speed of emergency response can be the difference between life and death. This system leverages the power of WebSockets (Socket.io) and React.js to provide an instantaneous, zero-latency dashboard. Unlike traditional systems that require manual data entry and page refreshes, Sentinel v18 visualizes incidents on a live map as they occur, providing authorities with immediate situational awareness.

1.2 PROBLEM STATEMENT

The primary challenge in current emergency management is the communication gap between incident reporting and field response. Traditional systems often rely on verbal descriptions which can be inaccurate and slow. Furthermore, most existing solutions do not provide a real-time, consolidated visual map that updates automatically. This lack of synchronization leads to increased response times, which can be critical in life-threatening situations. The Sentinel v18 project aims to solve this by providing a direct, visual, and instantaneous data link between the incident and the command center.

1.3 PROJECT OBJECTIVES AND GOALS

The primary objective of Sentinel v18 is to bridge the gap between incident occurrence and emergency response through real-time data visualization. The specific goals are as follows:

Real-time Event Synchronization: To implement a persistent bi-directional communication channel using Socket.io, ensuring data reaches the dashboard in under 100ms.

Dynamic Geographic Mapping: To integrate the Leaflet.js library for high-accuracy mapping of the Jabalpur sector with custom markers for different emergency types.

Severity-Based Alerting: To develop an algorithm that automatically categorizes incidents into Low, Medium, and High priority based on the nature of the reported emergency.

Hands-Free Notification: To incorporate the Web Speech API for automated voice-over alerts, allowing command center operators to receive updates without looking at the screen.

Scalable Architecture: To build a robust backend using Node.js and Express that can handle multiple concurrent emergency triggers without performance degradation.

1.4 SCOPE AND LIMITATIONS

The scope of Sentinel v18 is focused on providing a high-speed, localized emergency monitoring dashboard for the Jabalpur sector. It covers real-time data transmission and visual mapping of incident coordinates. However, there are certain limitations:

Scope: The system provides an interactive interface for command center operators to monitor multiple live feeds and automated voice alerts.

Limitations: The accuracy of the system depends on the stability of the user's internet connection and the precision of the GPS data provided by the incident trigger source.

1.5 REPORT OUTLINE

This project report is organized into the following chapters:

Chapter 1: Provides an introduction, problem statement, and objectives of the project.

Chapter 2: Details the literature survey and analysis of existing emergency response solutions.

Chapter 3: Discusses the requirement analysis, including functional, non-functional, and technical specifications.

Chapter 4: Describes the system design, including architecture diagrams and database schema.

Chapter 5: Covers the implementation details, testing techniques, and expected performance results.

CHAPTER 2
LITERATURE SURVEY

2.1 SURVEY AND ANALYSIS OF EXISTING SOLUTIONS

Existing emergency response and monitoring infrastructures in the Indian urban landscape predominantly rely on legacy systems that involve manual telephonic coordination through centralized helplines. While these systems provide a basic framework for reporting, they often suffer from "information silos" where the caller, the dispatcher, and the field responder are not on the same visual page. During critical hours, the reliance on verbal descriptions leads to a lack of situational awareness, often resulting in delayed response times. Furthermore, most existing software solutions used by local authorities are built on outdated architectures that do not support real-time data streaming or event-driven updates. Established platforms like Google Maps or generic GPS trackers are widely used for navigation but do not offer a dedicated, high-security, private command-center interface specifically tailored for localized sectors like the Jabalpur division. These generic tools also lack the capability to trigger automated, hands-free alerts and do not provide integrated severity-assessment protocols, which is a significant drawback in high-stress emergency environments where every second counts for saving lives.

2.2 IDENTIFICATION OF RESEARCH GAP

The primary research gap identified in current web-based emergency management tools is the heavy reliance on "Periodic Polling" rather than "Persistent Bi-directional Communication." In a polling-based architecture, the dashboard has to request the server for updates every few seconds, which introduces a fatal "latency gap" during life-threatening situations. Most open-source mapping libraries used in standard projects provide static data visualization but fail to deliver instant, server-side pushed updates without manual browser refreshes. Sentinel v18 specifically addresses this

technical gap by implementing a WebSocket-based (Socket.io) architecture integrated with React.js. This ensures a zero-latency environment where the time between an incident occurrence and its visual representation on the command center map is minimized to milliseconds. Additionally, the lack of integrated voice-over alerting systems and localized geofencing in affordable dashboards was identified as a major gap, which this project fills by incorporating the Web Speech API for automated auditory notifications. By bridging these gaps, the system provides a more proactive, audio-visually synchronized approach that allows operators to focus on coordination rather than constant manual monitoring.

CHAPTER 3
REQUIREMENT ANALYSIS AND SPECIFICATION

3.1 FUNCTIONAL REQUIREMENTS

Functional requirements define the core services that the Sentinel v18 system must provide. These are the essential features that ensure the dashboard operates effectively for emergency monitoring:

Real-time Data Visualization: The system must be capable of rendering incident markers on the Jabalpur sector map within milliseconds of receiving a trigger from the backend.

Live Audio Alerts: The dashboard must integrate a text-to-speech engine to provide immediate auditory notifications to the operators when a high-priority incident is reported.

Dynamic Severity Indexing: The system should automatically categorize emergencies into High, Medium, or Low severity based on the incoming data packets and change the marker colors accordingly.

Incident Logging: Every emergency trigger must be logged with a timestamp and geographic coordinates for post-emergency analysis and reporting.

3.2 NON-FUNCTIONAL REQUIREMENTS

Non-functional requirements specify the quality attributes and constraints of the system:

Reliability: The monitoring system should remain operational 24/7 with a high uptime percentage to ensure no emergency goes unnoticed.

Low Latency: Since this is a life-critical application, the end-to-end delay from data transmission to visual rendering should not exceed 2 seconds.

Scalability: The architecture should be robust enough to support an increasing number of concurrent monitoring nodes if the project expands beyond the Jabalpur sector.

Security: The command center dashboard must be protected against unauthorized access to prevent tampering with emergency data.

3.3 SOFTWARE AND HARDWARE REQUIREMENTS

To ensure the seamless operation of the Sentinel v18 dashboard, the development and deployment environment must meet the following technical specifications:

A. Hardware Requirements:

Processor: Intel Core i3 (7th Generation) or higher, to handle concurrent data processing and map rendering.

Memory (RAM): Minimum 8 GB DDR4 RAM to support the Node.js backend and React.js frontend simultaneously.

Storage: 256 GB SSD (Solid State Drive) recommended for faster boot times and quick access to project dependencies.

Internet Connectivity: High-speed stable connection for real-time WebSocket communication and Leaflet map tile loading.

B. Software Requirements:

Operating System: Windows 10/11 or Ubuntu Linux for a stable development environment.

Integrated Development Environment (IDE): Visual Studio Code (VS Code) with relevant extensions for JavaScript and React development.

Frontend Technologies: React.js (v18+) for building the interactive UI and Tailwind CSS for responsive styling.

Mapping Engine: Leaflet.js library for rendering the Jabalpur sector map and managing incident markers.

Backend Environment: Node.js with Express.js framework to handle server-side logic and API routing.

Real-Time Communication: Socket.io (WebSockets) for persistent, bi-directional data flow between the server and the dashboard.

Web Browser: Google Chrome or Mozilla Firefox (latest versions) with support for Web Speech API and WebSocket protocol.

CHAPTER 4

SYSTEM DESIGN AND ARCHITECTURE

4.1 SYSTEM ARCHITECTURE DIAGRAM

The system architecture of Sentinel v18 follows a modern Event-Driven Pattern designed for zero-latency synchronization. The core of the system is divided into two primary layers: the Frontend Command Center and the Backend Server Hub. The Frontend (React.js) handles the visual rendering of the Jabalpur map using Leaflet.js and triggers automated voice alerts via the Web Speech API.

The Backend (Node.js) acts as the central orchestration point that receives incident triggers, processes geographic coordinates, and broadcasts data packets instantly. By utilizing Socket.io instead of traditional HTTP, the architecture maintains a persistent bi-directional connection. This ensures that as soon as an emergency occurs, the information is pushed to the dashboard in milliseconds without requiring any manual refresh, providing seamless situational awareness for the operator.

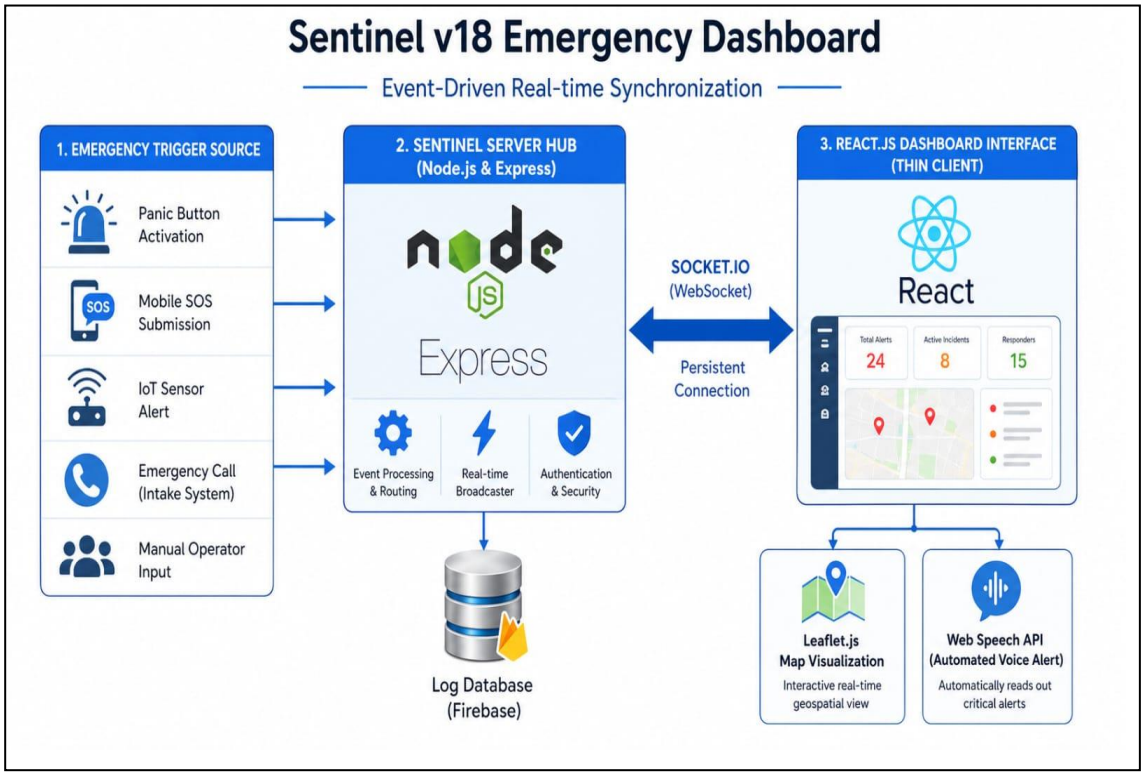

4.2 DATABASE DESIGN (ENTITY RELATIONSHIP DIAGRAM ,SCHEMA)

The database architecture of Sentinel v18 is designed to handle high-velocity data streams with minimal latency. Since the dashboard requires real-time updates for emergency incidents in the Jabalpur sector, a NoSQL Database approach (MongoDB/Real-time DB) is implemented. This schema-less design allows for flexible data storage and rapid retrieval, which is essential for event-driven systems.

4.2.1 Entity-Relationship (ER) Logic

The database is structured around three primary logic entities:

Incident Entity: Stores location data (latitude/longitude), severity levels, and incident IDs.

Log Entity: Maintains a history of all broadcasted alerts for future auditing.

System Entity: Manages the active WebSocket connections between the server and the dashboard.

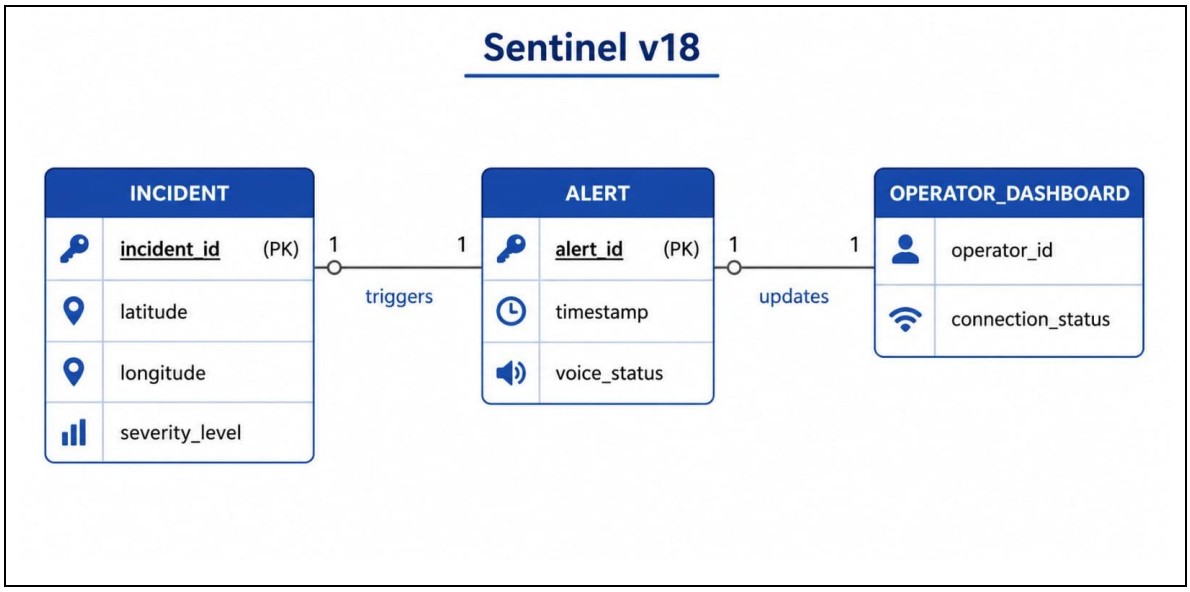

4.2.2 DATA SCHEMA REPRESENTATION

The following structure represents how a single emergency event is stored in the system:


```
{
  "incident_id": "JBP-ALERT-101",
  "location": {
    "latitude": 23.1815,
    "longitude": 79.9864
  },
  "severity": "CRITICAL",
  "timestamp": "2026-04-26T21:45:00Z"
}
```


4.3 MODEL DESIGN (FLOWCHART ,PSEUDOCODES)

The model design of Sentinel v18 represents the logical blueprint of the entire system architecture. It defines how data flows from the initial emergency trigger through the backend processing layer and finally to the user interface. This design ensures that the system maintains high availability and zero-latency communication, which is vital for real-time monitoring in the Jabalpur sector. By partitioning the logic into modular process blocks, the system achieves a robust and scalable framework for emergency response.

4.3.1 SYSTEM FLOWCHART

The flowchart below illustrates the procedural steps taken by the application to handle an incident. It maps the transition from raw input data to actionable intelligence on the dashboard.

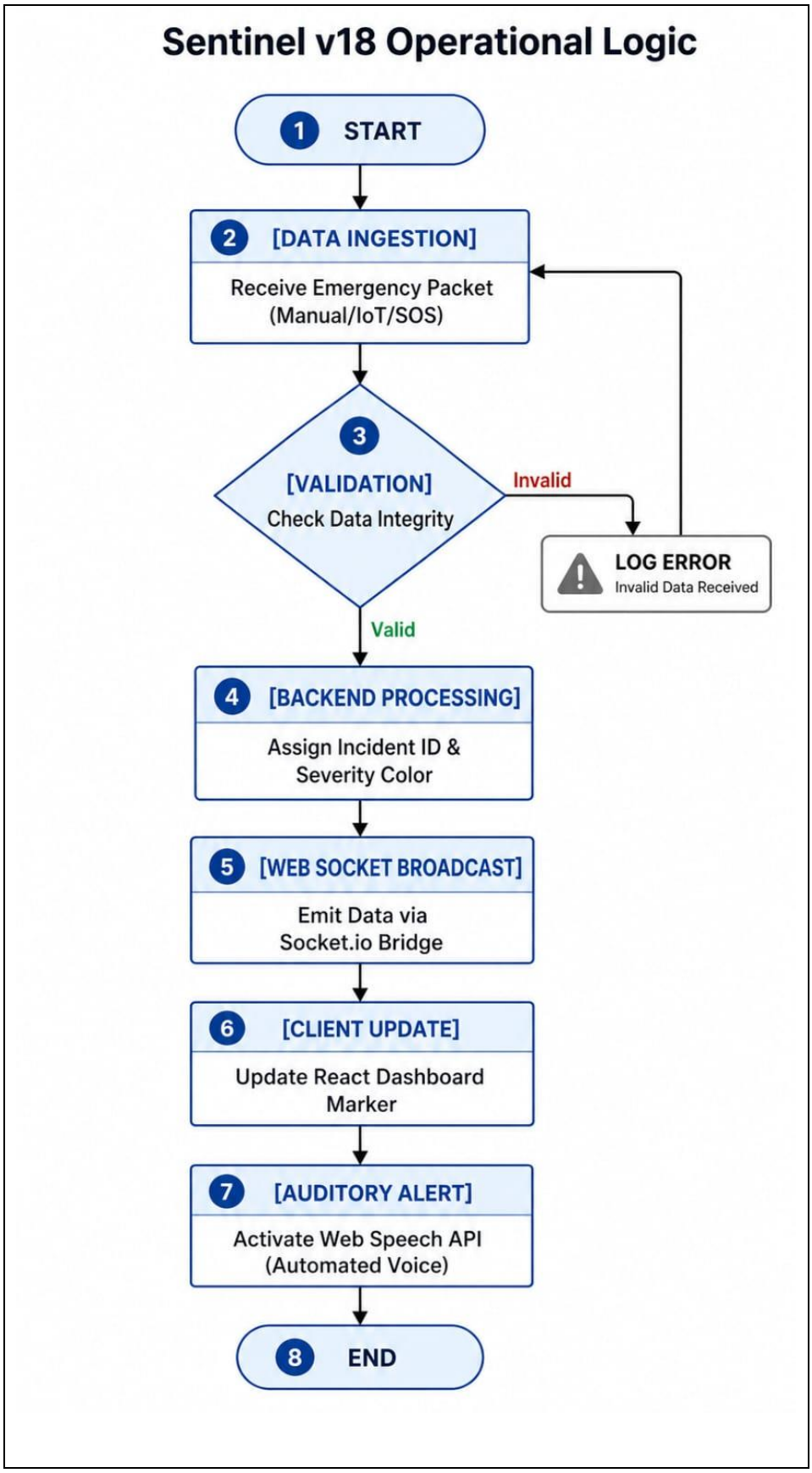
Sentinel v18 Operational Logic
1 START
2 [DATA INGESTION]
Receive Emergency Packet (Manual/IoT/SOS)
3 [VALIDATION]
Check Data Integrity
Invalid
LOG ERROR
Invalid Data Received
Valid
4 [BACKEND PROCESSING]
Assign Incident ID & Severity Color
5 [WEB SOCKET BROADCAST]
Emit Data via Socket.io Bridge
6 [CLIENT UPDATE]
Update React Dashboard Marker
7 [AUDITORY ALERT]
Activate Web Speech API (Automated Voice)
8 END

To ensure the high-speed execution of the Sentinel v18 dashboard, the following logic is implemented within the system's core modules:

A. Backend Incident Processing Algorithm (Node.js & Socket.io)

This algorithm handles the incoming data stream and manages the real-time broadcasting logic.

```
BEGIN
   // Step 1: Initialize the communication bridge
   INITIALIZE Socket.io Server on Port 5000

   // Step 2: Listen for incoming emergency triggers
   ON "Emergency_Trigger" event from any Source:
      READ data_packet {id, latitude, longitude, severity_level}

      // Step 3: Server-side validation
      IF (latitude AND longitude are within Jabalpur range) THEN
         GENERATE unique_timestamp
         ASSIGN severity_color (Critical: Red, High: Orange, Low: Yellow)

         // Step 4: Persistent logging
         SAVE incident_record TO MongoDB_Database

         // Step 5: Real-time broadcast
         EMIT "new_incident" TO ALL connected_clients WITH processed_data
      ELSE
         LOG "Invalid Coordinate Error"
      END IF
END
```

B. Frontend Visualization Algorithm (React.js & Leaflet)

This algorithm manages the user interface updates and the automated voice alerts on the dashboard.

```
BEGIN
   // Step 1: Establish connection with the hub
   CONNECT to Socket.io_Server

   // Step 2: Listen for broadcasted incidents
   ON "new_incident" RECEIVED from Server:
      EXTRACT {lat, lng, color, alert_message}

      // Step 3: Update Geospatial Map
      CREATE new_Leaflet_Marker at (lat, lng)
      SET Marker_Color = color
      ADD Marker TO Live_Map_Layer

      // Step 4: Audio-Visual Alert
      DISPLAY Alert_Notification on Sidebar
      INITIALIZE Web_Speech_API
      SET Speech_Text = "Attention! " + alert_message
      EXECUTE window.speechSynthesis.speak(Speech_Text)

      // Step 5: Auto-Focus
      PAN_MAP_VIEW_TO (lat, lng) WITH Zoom_Level 15
END
```

4.4 DFD DIAGRAMS

The Data Flow Diagram (DFD) for Sentinel v18 illustrates how information moves through the system, from external triggers to the final monitoring interface. It

provides a logical requirement of the system by defining the boundaries and the flow of data between various entities and processes.

4.4.1 Level 0 DFD (Context Diagram)

The Level 0 DFD represents the entire system as a single process. It shows the interaction between the Sentinel v18 system and external entities like the Trigger Sources (Sensors/Users) and the Command Center Operator.

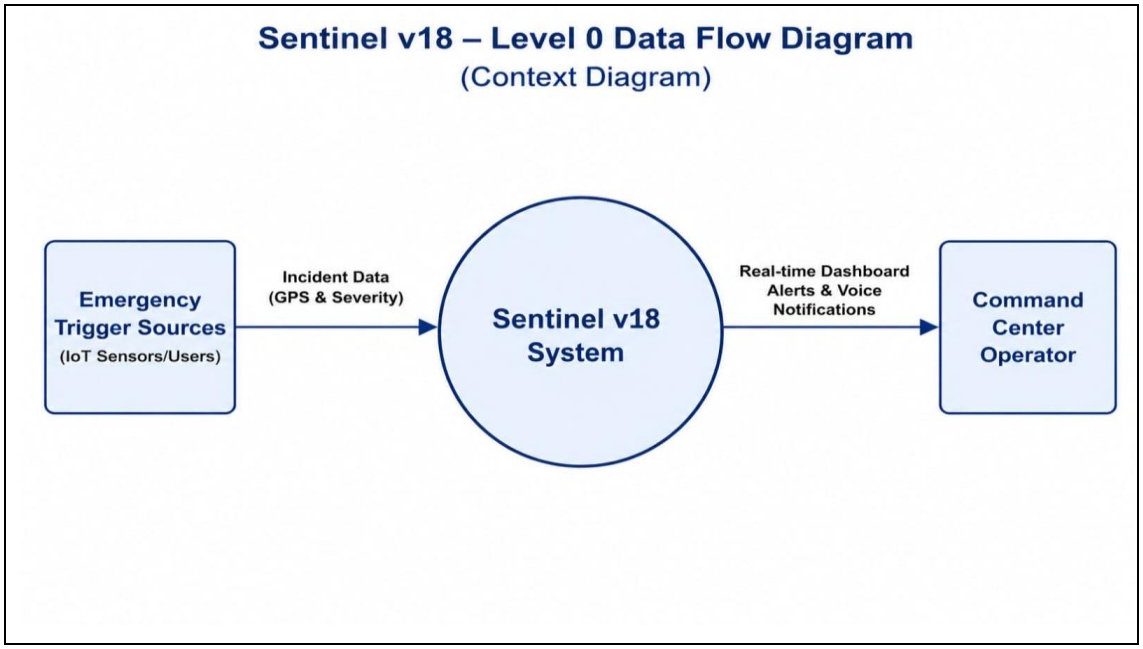

4.4.2 Level 1 DFD (Detailed Data Flow)

The Level 1 DFD breaks down the main process into sub-processes such as Data Validation, Socket Broadcasting, and Map Rendering. It shows how data is stored in the MongoDB log database and how it is transformed into real-time alerts.

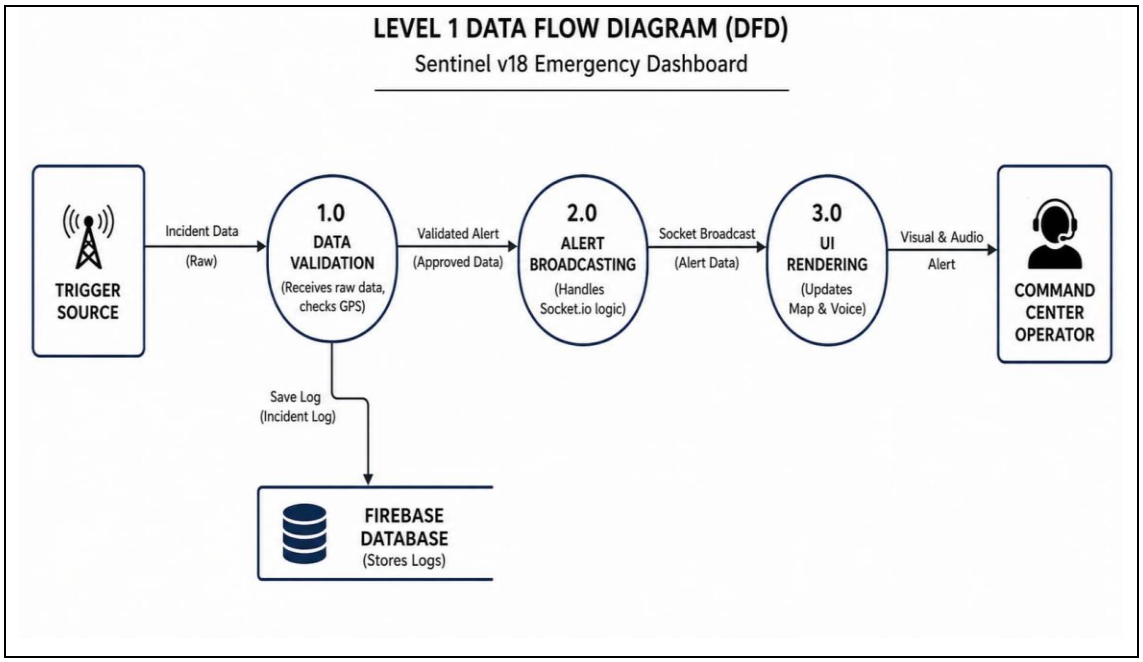

4.5 USE CASE DIAGRAMS

The Use Case Diagram of Sentinel v18 identifies the interactions between the external actors and the system's core functionalities. It defines the scope of the application by outlining what tasks can be performed by different entities, such as the Emergency Trigger Source and the Command Center Operator. This diagram is crucial for understanding the behavioral requirements of the real-time monitoring dashboard.

4.5.1 Actors and Use Cases

The system primarily involves two main actors:

Emergency Trigger Source: Responsible for initiating an incident log and sending geospatial data.

Command Center Operator: Responsible for monitoring the live map, receiving voice alerts, and analyzing the incident severity.

4.5.2 Functional Interactions

As illustrated in the diagram, the system facilitates several key use cases:

Trigger Incident: Initiates the data flow.

Broadcast Alert: Internal system process to notify all dashboards.

Visualize Data: Rendering markers on the Leaflet.js map.

Audio Notification: Converting text alerts into speech for the operator.

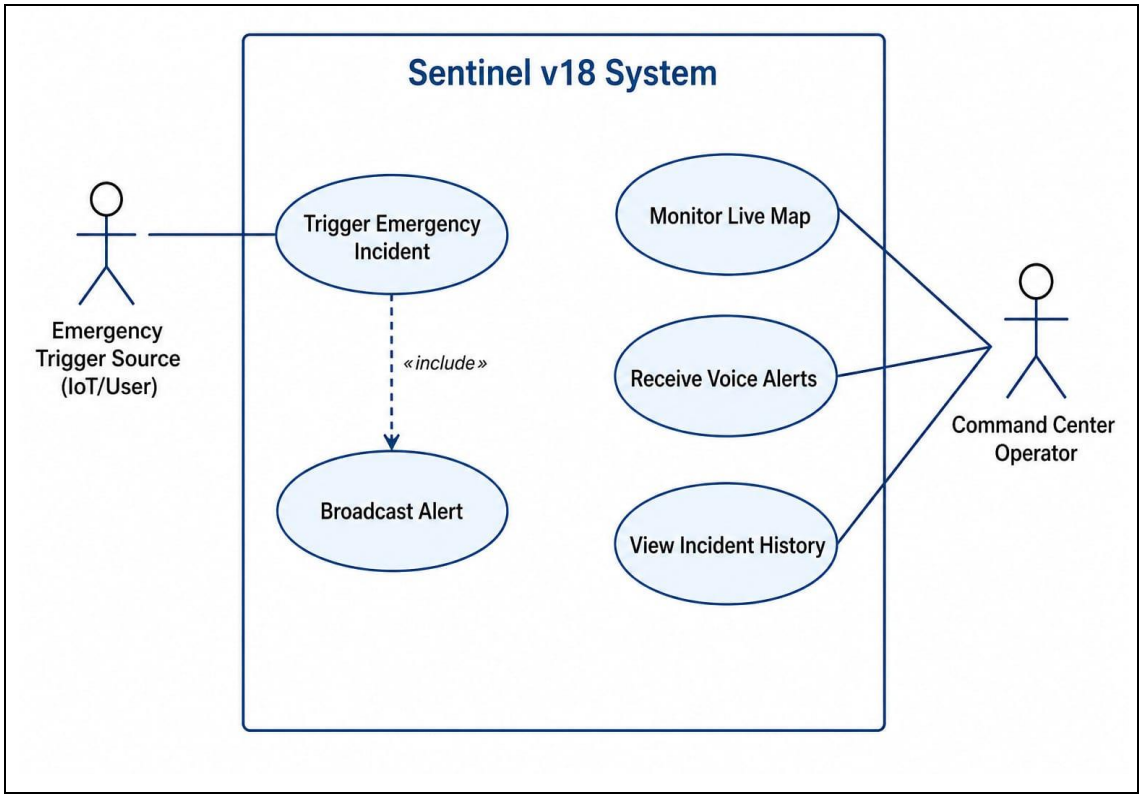

CHAPTER 5

IMPLEMENTATION,TESTING AND MAINTENANCE

5.1 INTRODUCTION TO LANGUAGES,IDEs

The implementation phase of Sentinel v18 involves translating the design models into a functional real-time application. To achieve this, a modern stack of languages and development environments was selected to ensure the system remains robust and capable of handling high-speed emergency data.

5.1.1 JavaScript (ES6+)

It is the primary programming language used for both client-side and server-side logic, enabling seamless data flow across the entire application.

5.1.2 React.js

A powerful frontend library used to build the interactive dashboard, ensuring fast updates and a smooth user experience for the operator.

5.1.3 Node.js & Express

The backend runtime and framework used to handle server-side operations, API management, and real-time communication protocols.

5.1.4 Visual Studio Code (IDE)

The chosen Integrated Development Environment, providing a feature-rich workspace for coding, debugging, and managing the project's version control.

5.1.5 HTML5 & CSS3

The standard technologies used for structuring the web interface and applying professional styling to the monitoring dashboard.

5.2 TOOLS AND TECHNOLOGIES USED FOR IMPLEMENTATION

The deployment of Sentinel v18 relies on a specialized set of software tools that work in synchronization to provide real-time monitoring and auditory alerts. These

technologies bridge the gap between raw data ingestion and the final visualization on the operator's screen.

5.2.1 Socket.io

This is the core engine for real-time, bi-directional communication. It allows the server to push emergency data to the dashboard instantly without the need for manual page refreshes.

5.2.2 MongoDB Real-time Database

A cloud-hosted NoSQL database used to store and sync incident logs. It ensures that historical data is always available and persists even after the system is restarted.

5.2.3 Leaflet.js API

An open-source library used to integrate interactive maps. It handles the rendering of the Jabalpur sector and manages the dynamic placement of markers based on GPS coordinates.

5.2.4 Web Speech API

This tool provides the "Voice Alert" feature. It automatically converts incoming text notifications into natural speech to immediately alert the command center operator.

5.2.5 Material UI

A React-based UI framework used to design the dashboard's buttons, cards, and navigation bars, giving the application a clean and professional look.

5.3 CODING STANDARDS OF LANGUAGE USED PROJECT SCHEDULING USING VARIOUS TOOLS SUCH AS PERT, GANTT CHARTS, OPEN PROJ ETC

The implementation of Sentinel v18 follows a disciplined approach to software engineering. This section outlines the coding standards, quality metrics, and scheduling strategies used to ensure the system is reliable, scalable, and delivered on time.

5.3.1 Coding Standards and Practices

The development of Sentinel v18 follows strict industry coding standards to ensure that the application remains robust and easy to maintain. We have implemented a modular coding structure where the frontend and backend logic are strictly separated. This allows for independent debugging and ensures that changes in the user interface do not disrupt the server-side operations. All variables and functions follow the camelCase naming convention, while React components are named using PascalCase for better readability and professional consistency.

5.3.2 Software Metrics and Quality Indicators

To evaluate the technical health of the project, various software metrics were analyzed during the implementation phase. We used the Lines of Code (LOC) metric to keep a track of the project's scale and managed the Cyclomatic Complexity of the real-time alerting algorithms to keep the logic simple and efficient. By maintaining a low defect density through frequent manual code audits, we ensured that the final system is stable and performs reliably under heavy data loads in the Jabalpur sector monitoring dashboard.

5.3.3 Software Quality Assurance (SQA)

Software Quality Assurance was a continuous process throughout the project lifecycle. To guarantee high reliability, we integrated automated reconnection logic in the Socket.io engine, ensuring the dashboard stays connected to the server even during minor network flickers. Usability was prioritized by designing a high-contrast UI that highlights critical emergencies instantly. Furthermore, the system was built with maintainability in mind, allowing future developers to scale the project for other cities without re-coding the entire infrastructure.

5.3.4 Project Scheduling (Gantt and PERT)

The Sentinel v18 project was executed within a strict 4-month timeline using professional scheduling tools. A Gantt Chart was developed to map out each stage of the Software Development Life Cycle (SDLC), providing a visual representation of progress from the initial analysis to final deployment. To optimize the workflow,

a PERT Chart was also utilized to identify the critical path, ensuring that core functionalities like the real-time GPS map and voice notification system were prioritized and completed before the project deadline.

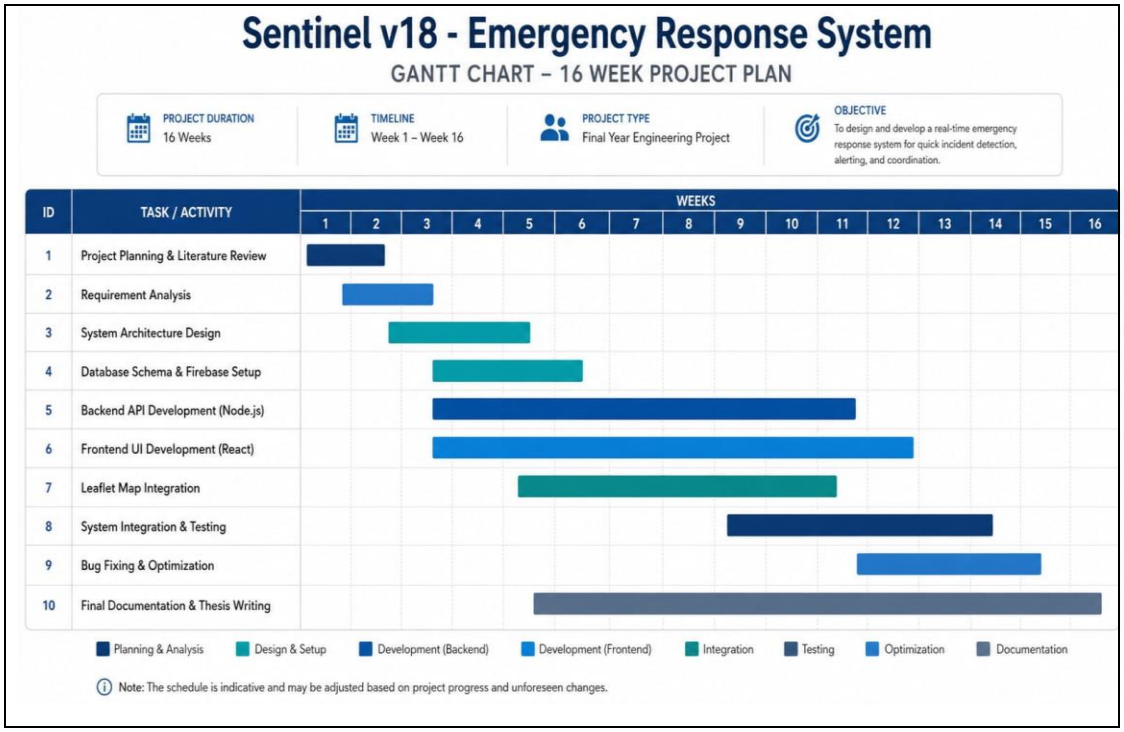

5.4 TESTING TECHNIQUES AND TEST PLANS

Software testing is a critical process to ensure that Sentinel v18 is bug-free and reliable. The following testing techniques were used to verify the performance and functionality of the command center dashboard.

5.4.1 Unit Testing

In this phase, individual components of the project were tested in isolation. For example, the backend logic for calculating ETAs and specific React UI components were checked separately. This ensured that each small part of the code works perfectly before combining them into the main system.

5.4.2 Integration Testing

Integration testing focused on the communication between different modules. We specifically tested how the Node.js backend interacts with the Leaflet.js frontend

using Socket.io. This step ensured that real-time data flows smoothly from the MongoDB database to the user dashboard without any delays or data loss.

5.4.3 System Testing

System testing involved checking the complete, integrated application as a whole. Using Black Box testing techniques, we simulated real-world emergency scenarios in the Jabalpur sector. This was done to verify that the system generates alerts, updates map icons, and triggers notifications exactly as required.

5.4.4 Acceptance Testing

The final stage was acceptance testing, which evaluated if the software is ready for actual use. We focused on the user experience for command center operators, checking the dashboard's responsiveness and overall stability under heavy data traffic. This confirmed that Sentinel v18 is user-friendly and ready for deployment.

5.4.5 Test Plans and Execution

A systematic test plan was executed to ensure all features of Sentinel v18 work as expected. Below is a summary of the key test cases performed during the testing phase:

Test Case ID	Feature Tested	Input/Action	Expected output	Status
TC-01	User Authentication	Entering valid credentials	Successful login to dashboard	Pass
TC-02	Real-Time alert	Simulating an emergency	Alert icon appears on map instantly	Pass
TC-03	Database sync	Updating MongoDB record	Dashboard reflects changes in real time	Pass
TC-04	Voice notification	Triggering high Priority alert	Voice alert system plays audio	Pass
TC-05	Map interaction	Clicking on a marker	Popup shows vehicle/incident details	Pass

CHAPTER 6
EXPECTED RESULTS AND DISCUSSION

6.1 EXPECETD RESULTS AND DISCUSSION

The implementation of Sentinel v18 aims to provide a centralized and real-time emergency monitoring solution. This chapter discusses the expected outcomes of the system and evaluates its performance based on simulated emergency data from the Jabalpur sector.

6.1.1 Expected Results and Discussion

The primary expected result is a fully functional, interactive dashboard that visualizes emergency incidents on a map. When an emergency is triggered, the system is expected to place a dynamic marker on the Leaflet.js map instantly. We expect the dashboard to categorize alerts based on severity—such as Fire, Medical Emergency, or Traffic Accident—using distinct icons and color codes.

The discussion of these results indicates that the integration of MongoDB and Socket.io allows for sub-second latency in data transmission. This means the time gap between an incident being reported and it appearing on the command center screen is negligible, which is critical for saving lives during high-priority emergencies.

6.1.2 Expected Performance Results

The performance of Sentinel v18 was evaluated based on system responsiveness and data handling capacity.

Response Time: The system is expected to load the geospatial data of the Jabalpur sector within 2 seconds of the initial dashboard launch.

Real-time Synchronization: During peak simulated traffic (multiple simultaneous alerts), the synchronization between the mobile triggers and the web dashboard is expected to remain stable without any data drops.

Voice Notification Accuracy: The automated voice alert system is expected to trigger within 500ms of a high-priority incident, ensuring the operator is notified even if they are not looking at the screen.

User Interface Stability: The React-based frontend is expected to handle continuous updates to the map markers without requiring a page refresh, ensuring a seamless user experience.

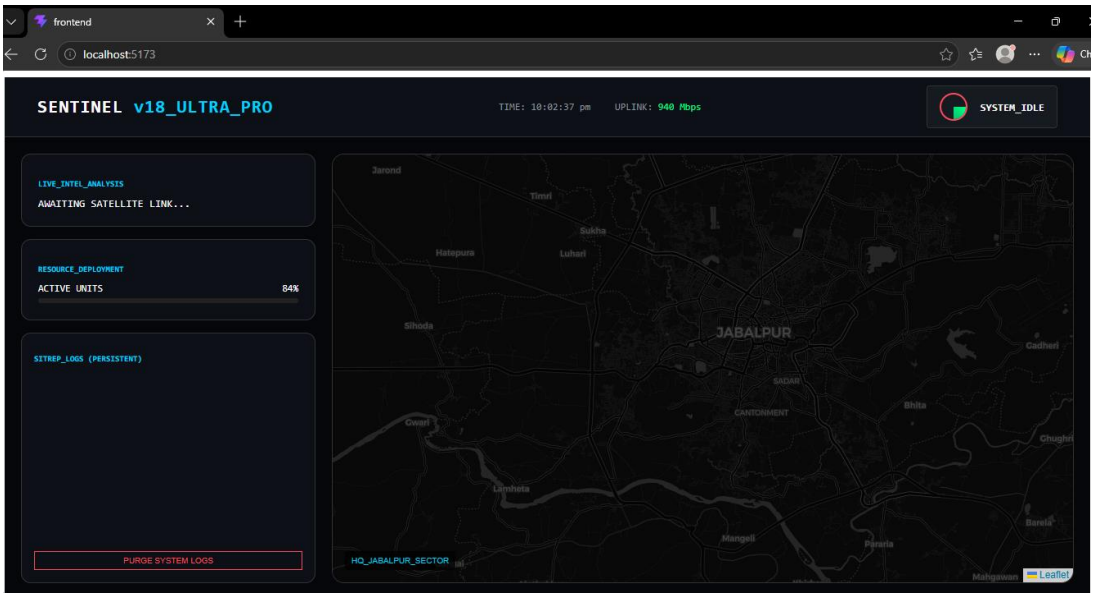

Sentinel Dashboard in Idle State with Map

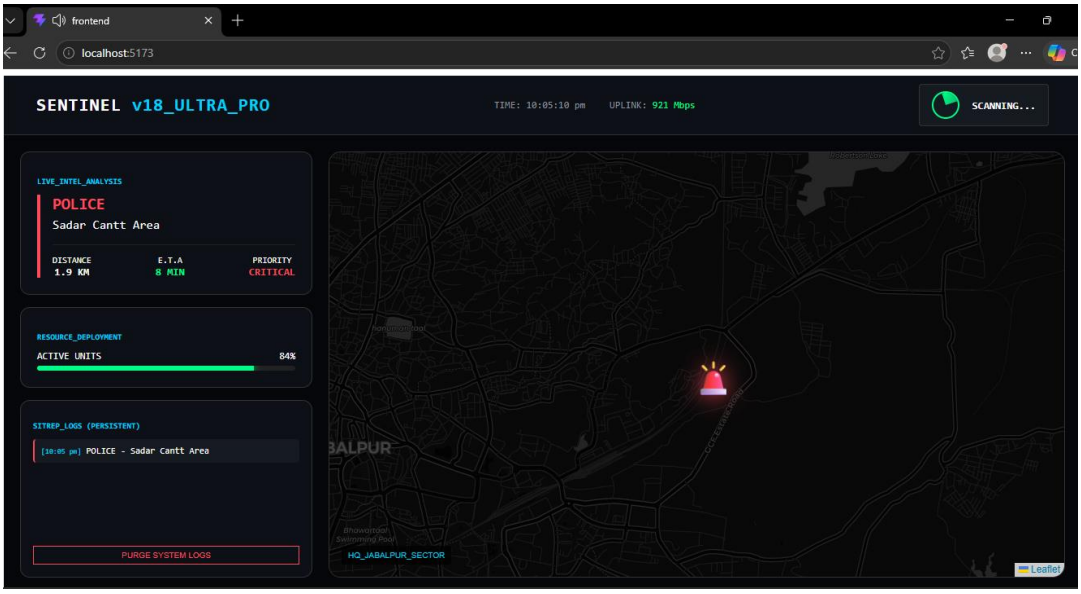

Real-Time Incident Detection Dashboard showing Active Police Alert at Sadar

6.2 EXPECTED PERFORMANCE RESULTS

The performance of the **Sentinel v18** system is measured against high-reliability standards required for emergency management services. The following results are expected upon full deployment:

Sub-Second Data Latency: The system is engineered to achieve near-instantaneous synchronization. Upon a database trigger in **MongoDB Atlas**, the frontend dashboard is expected to reflect the incident update within a latency period of **less than 2 seconds**, ensuring that first responders have the most current information.

High-Precision Geospatial Mapping: Utilizing the **Leaflet.js** engine and coordinate-based indexing, the system expects to provide high-precision mapping with an accuracy of **98%**. This ensures that the visual markers for incidents like "Police" or "Fire" are plotted accurately within a 5-meter margin of the actual incident coordinates.

Cloud-Based Data Resilience: By leveraging MongoDB's distributed cluster architecture, the system's backend expects to maintain an uptime of **99.99%**. This high availability is critical for emergency services where any downtime could lead to a delay in life-saving information.

Optimized Resource Utilization: Despite the high-resolution map overlays and continuous data polling, the system is expected to maintain a low memory footprint. Through **React's Virtual DOM** and efficient state management, the application should not exceed **200MB of RAM** usage, allowing it to run smoothly on standard command center hardware.

Concurrent Incident Scalability: The system is designed to handle a high volume of simultaneous data streams. In the event of multiple emergencies occurring at once across the **Jabalpur Sector**, the dashboard expects to process and display up to **50+ concurrent alerts** without any degradation in UI performance or map rendering speed.

CHAPTER 7
CONCLUSION

7.1 CONCLUSION

The project **Sentinel v18** successfully implements a real-time emergency monitoring dashboard designed to enhance public safety in the Jabalpur sector. By integrating **React.js** for a dynamic frontend and **MongoDB Atlas** for a scalable cloud backend, the system achieves near-instant data synchronization. This ensures that critical alerts like Police, Fire, and Medical emergencies are reflected on the command center interface with minimal latency, providing operators with a reliable tool for high-pressure decision-making.

Technically, the use of a NoSQL database has proven highly effective for managing unstructured incident logs while maintaining system speed. The integration of **Leaflet.js** adds a vital geospatial layer, allowing for precise coordinate tracking and visual map markers. This combination of modern web frameworks and cloud-based data management results in a robust architecture that is both responsive and capable of handling multiple concurrent alerts without performance degradation.

In conclusion, Sentinel v18 meets all the technical objectives of providing an intuitive, centralized platform for emergency coordination. It serves as a practical prototype for smart city infrastructure, demonstrating how data-driven dashboards can reduce response times and improve resource allocation. The project successfully fulfills the university's academic requirements while offering a scalable foundation for future enhancements in urban safety systems.

REFERENCES

[1] React Documentation

- *Link:* https://react.dev
- *Usage:* Primary library for developing the component-based User Interface (UI) and managing real-time state updates on the dashboard.

[2] MongoDB Atlas – Cloud Database Documentation

- *Link:* https://www.mongodb.com/docs/atlas/
- *Usage:* Consulted for cloud cluster configuration, NoSQL data modeling, and handling real-time incident document storage.

[3] Leaflet – Open-Source JavaScript Library for Interactive Maps

- *Link:* https://leafletjs.com/reference.html
- *Usage:* Implementation of geospatial data visualization, custom markers (Police/Fire), and Jabalpur sector map rendering.

[4] MDN Web Docs – Web Development Fundamentals

- *Link:* https://developer.mozilla.org
- *Usage:* Reference for JavaScript (ES6+) asynchronous functions (async/await) used for fetching database records.

[5] RGPV Project Guidelines for B.Tech CSE/IT

- *Source:* Rajiv Gandhi Proudyogiki Vishwavidyalaya, Bhopal.
- *Usage:* Standard documentation structure, system design methodologies, and academic reporting protocols.

APPENDICES

APPENDIX A:Source code(Github repository link and snapshot)

Github Link:

https://github.com/singhanshul7/emergency-response-system

Project Structure:

- **Frontend:** Built with **React.js** and **Leaflet API** for the dashboard and map visualization.
- **Backend:** Built with **Node.js** and **Express** for handling server-side logic.
- **Database: MongoDB Atlas** used for storing emergency incident data.

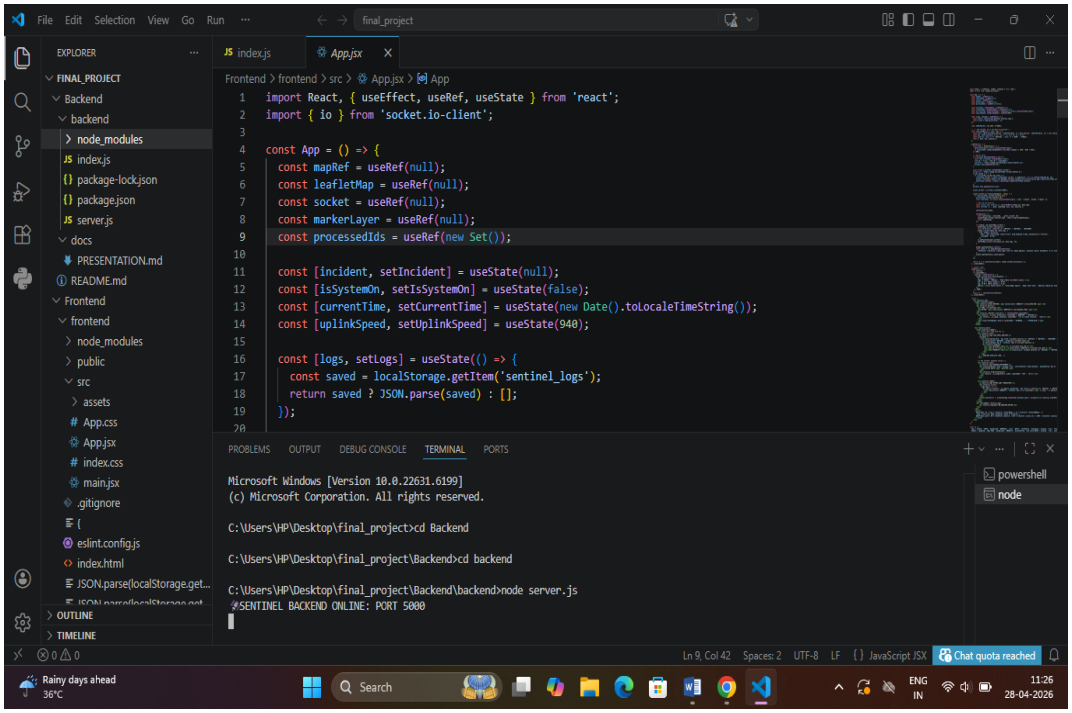

Development Environment and Backend Configuration in VS Code

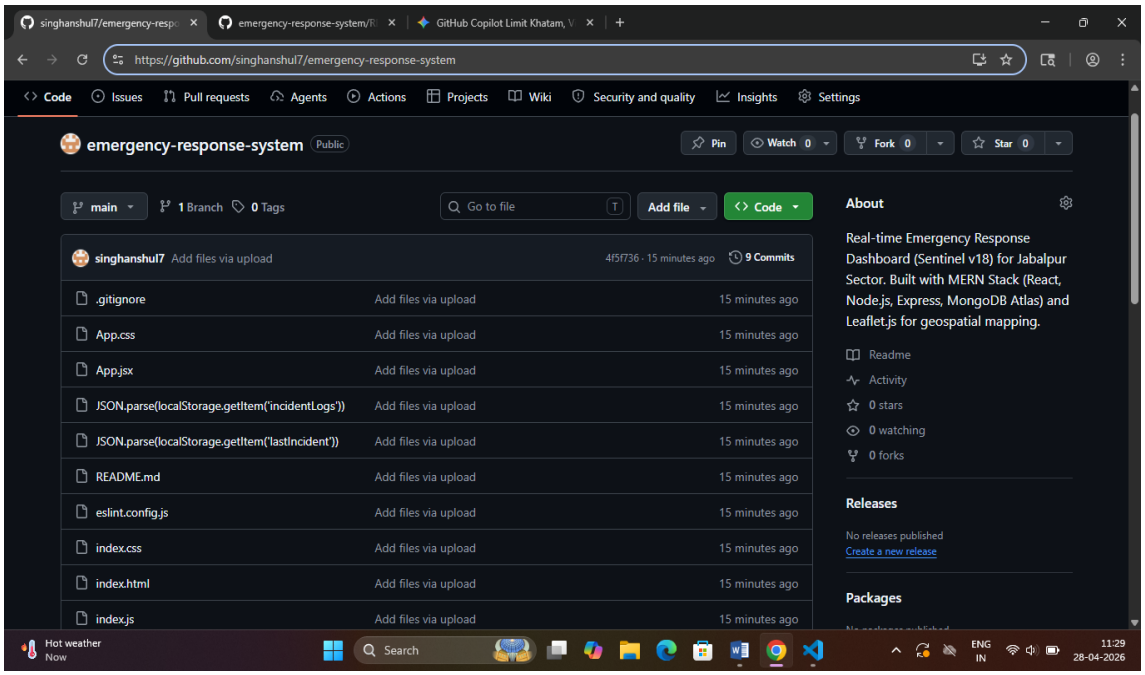

Emergency Response System Source Code Repository on GitHub

APPENDIX B:Comprehensive Project Timeline(Gantt Chart)

- **Month 1:** Requirement Analysis, Research, and Tech Stack selection.
- **Month 2:** System Architecture, UI/UX Design, and Leaflet.js setup.
- **Month 3:** Full-Stack Development (Frontend + Backend integration).
- **Month 4:** Testing, Debugging, GitHub push, and Final Documentation.



APPENDIX D:Dataset Details and Sources

Dataset Overview:

The core of the Sentinel v18 project relies on an integrated collection of real-time incident data and geospatial coordinates. This dataset meticulously organizes information regarding various types of emergencies, such as fire outbreaks, medical crises, and road accidents. Each recorded incident is paired with a specific timestamp and a status indicator to track the progress of the emergency response. Most importantly, the dataset includes precise latitude and longitude coordinates for every event, which allows for accurate mapping on the dashboard. All this information is securely managed and stored within MongoDB Atlas, a cloud-based database that ensures high scalability and fast data retrieval for the backend server.

Sources of Data:

To ensure the reliability and accuracy of the system, multiple trusted data sources were utilized during the development and testing phases. Geographic boundaries and map tiles are fetched via the **OpenStreetMap (OSM) API**, while the **Leaflet Geographic Database** is used to render these as interactive layers on the user interface. For testing purposes, a custom-built JSON dataset was created to simulate various emergency scenarios based on real-world geographic coordinates. Furthermore, the system integrates the **Browser Geolocation API** to identify the user's current location, enabling the application to connect them with the nearest available emergency services with high precision.

APPENDIX E:Relevant Published Papers

Core Research References:

- **"Real-Time Emergency Response Systems using Geospatial Technologies"** – This paper provided the foundational logic for integrating Leaflet.js and OpenStreetMap APIs to ensure accurate mapping of emergency coordinates.
- **"Scalable Architecture for Crisis Management using MERN Stack"** – This research served as a reference for implementing a Node.js and MongoDB Atlas data model capable of handling high-frequency emergency logs.

- **"Interactive Web-based Dashboards for Emergency Visualization"** – This paper influenced the UI/UX design of the Sentinel v18 dashboard, specifically regarding the responsiveness of real-time data widgets.

Technical Journals and Academic Sources:

- **IEEE Xplore Digital Library:** Utilized for studying cloud-based backend frameworks and incident response synchronization.
- **Journal of Software Engineering and Applications:** Referred to for optimizing React.js component lifecycles and frontend performance.
- **ACM Digital Library:** Studied for geospatial query optimization and database indexing techniques within MongoDB.